Bus Stop Safety Evaluation Report

Automated roadside safety screening using imagery + distance-based metrics

Generated: 2026-03-06 14:51

Fair

Snapshot

Overall Result

Fair

Average score: 4.88 / 9.00

Fair

Latitude
36.1523113

Longitude
-115.1571111

Eval Images (zoom-in)
5

Display Images (zoom-out)
5

Source
SDK / Server

Distance-Based Score Breakdown

Metric	Value
Railways	9
Water	9
Ramps	9
Footpaths	2
BikeLanes	2
BusStops	2
TrafficLights	2
Intersections	4

Road Context

Metric	Value
nearestRoadDistanceM	2061.6972319027186
roadType	tertiary
maxspeed	
slopePct	1.8469238281271
slopeRule	OK ("d5%)
estimatedRoadWidthM	14

LLM Visual Evaluation

Criteria scored from street view imagery (red dot target point)

Generated: 2026-03-06 14:51

Fair

LLM Overall

LLM Combined Result

Fair

Average score: 4.83 / 9.00

Fair

Criteria Details

Posted Stop with Bus Access

3.0/9

Reason

There is no visible bus stop sign, painted curb, or designated pull-off area at the red dot location. The location is on the edge of the roadway with no shoulder, making it unsafe and impractical for a school bus to stop without blocking traffic.

Obstacles Near Stop

4.0/9

Reason

The red dot is on a narrow strip of dirt and gravel adjacent to a fence, with no sidewalk or clear pedestrian space. There are no visible obstacles like parked cars or bushes, but the area itself is not a safe or clear waiting space.

Visibility to Other Vehicles

7.0/9

Reason

The road is straight and appears to have a long sightline with no significant visual obstructions from the red dot location. Drivers approaching from either direction have a clear view of the roadway ahead.

ADA Accessibility

2.0/9

Reason

There is no visible sidewalk or paved path leading to the red dot location. The area is unpaved and appears to be a dirt and gravel patch, with no curb ramps or accessible pathway visible.

Crossing Hazards

5.0/9

Reason

The images do not show a clear pedestrian crossing near the red dot location. While the road appears to be a two-lane street, it is unclear if students would need to cross or how they would do so safely. The lack of visible crosswalks or traffic controls makes this uncertain.

Obstructions to Visibility for Drivers

8.0/9

Reason

There are no significant obstructions such as parked vehicles, trees, or large structures blocking the view of the red dot location from the road. The area is open and visible from a distance.

Distance & Scoring Metrics

Numeric measurements and derived 1–9 score signals

Generated: 2026-03-06 14:51

Fair

Distance Metrics (meters)

Metric	Value
Railways	278.97
Water	1530.03
Ramps	448.17
Footpaths	108.28
BikeLanes	860.40
BusStops	417.58
TrafficLights	5497.67
Intersections	5141.69

Distance Scores (1–9)

Metric	Value
Railways	9
Water	9
Ramps	9
Footpaths	2
BikeLanes	2
BusStops	2
TrafficLights	2
Intersections	4

Street View Evidence

Zoom-out context images (not used by LLM evaluation)

Generated: 2026-03-06 14:51

5 images

Street View Images

Main looking first (center) then Around looking (compact).

Main looking — streetview_zoom_out_center.jpg



Around looking

streetview_zoom_out_minus90.jpg



streetview_zoom_out_minus45.jpg



streetview_zoom_out_plus45.jpg



streetview_zoom_out_plus90.jpg